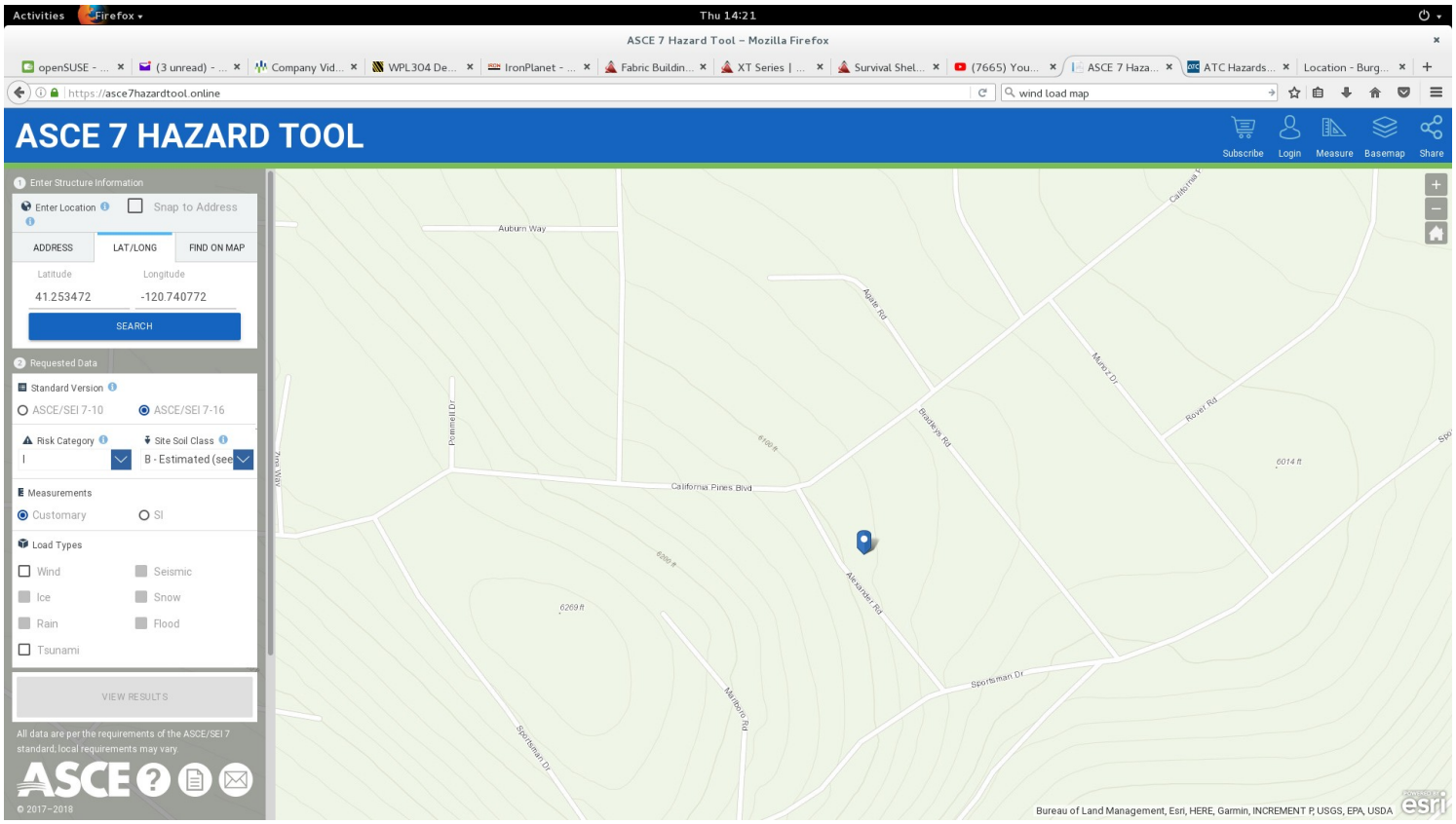
Activities
Firefox
Thu 14:21
ASCE 7 Hazard Tool – Mozilla Firefox
https://asce7hazardtool.online
wind load map
ASCE 7 HAZARD TOOL
Subscribe
Login
Measure
Basemap
Share
1 Enter Structure Information
Enter Location
Snap to Address
ADDRESS
LAT/LONG
FIND ON MAP
Latitude
Longitude
41.253472
-120.740772
SEARCH
2 Requested Data
Standard Version
ASCE/SEI 7-10
ASCE/SEI 7-16
Risk Category
I
Site Soil Class
B - Estimated (see
Measurements
Customary
SI
Load Types
Wind
Seismic
Ice
Snow
Rain
Flood
Tsunami
VIEW RESULTS
All data are per the requirements of the ASCE/SEI 7 standard, local requirements may vary.
ASCE
© 2017–2018
Auburn Way
Apache Rd
Muro Dr
Rover Rd
Bradleys Rd
Pommell Dr
California Pines Blvd
Alexander Rd
Sportsman Dr
Marlboro Rd
6100 ft
6014 ft
6269 ft
Bureau of Land Management, Esri, HERE, Garmin, INCREMENT P, USGS, EPA, USDA
esri

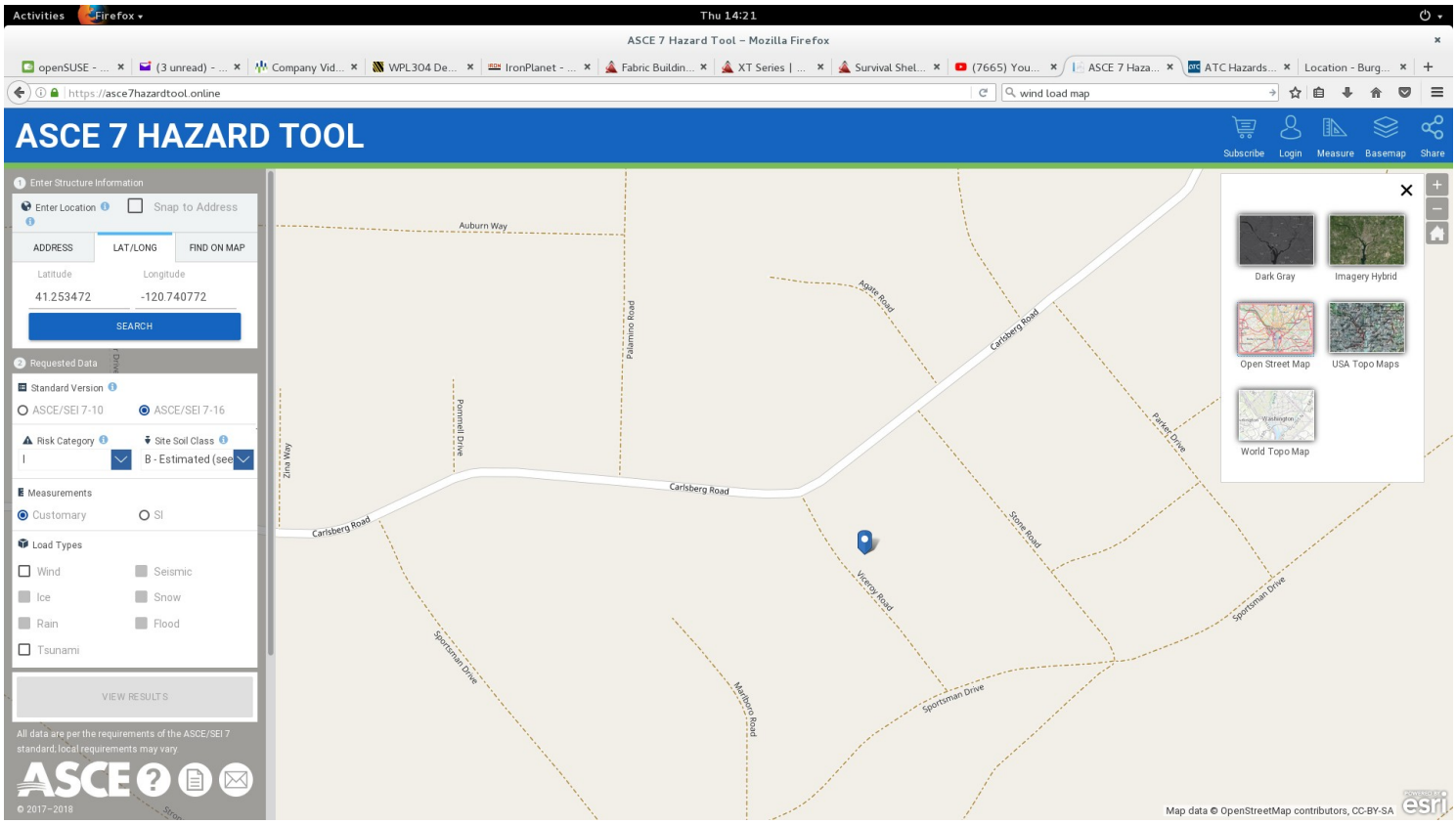
Activities
Firefox
Thu 14:21
ASCE 7 Hazard Tool – Mozilla Firefox
https://asce7hazardtool.online
wind load map
ASCE 7 HAZARD TOOL
Subscribe
Login
Measure
Basemap
Share
1 Enter Structure Information
Enter Location
Snap to Address
ADDRESS
LAT/LONG
FIND ON MAP
Latitude
Longitude
41.253472
-120.740772
SEARCH
2 Requested Data
Standard Version
ASCE/SEI 7-10
ASCE/SEI 7-16
Risk Category
I
Site Soil Class
B - Estimated (see
Measurements
Customary
SI
Load Types
Wind
Seismic
Ice
Snow
Rain
Flood
Tsunami
VIEW RESULTS
All data are per the requirements of the ASCE/SEI 7 standard, local requirements may vary.
ASCE
© 2017–2018
Auburn Way
Palamino Road
Agate Road
Carlsberg Road
Pommell Drive
2nd Way
Parker Drive
Stone Road
Viceroy Road
Sportsman Drive
Marlboro Road
Dark Gray
Imagery Hybrid
Open Street Map
USA Topo Maps
World Topo Map
Map data © OpenStreetMap contributors, CC-BY-SA
esri

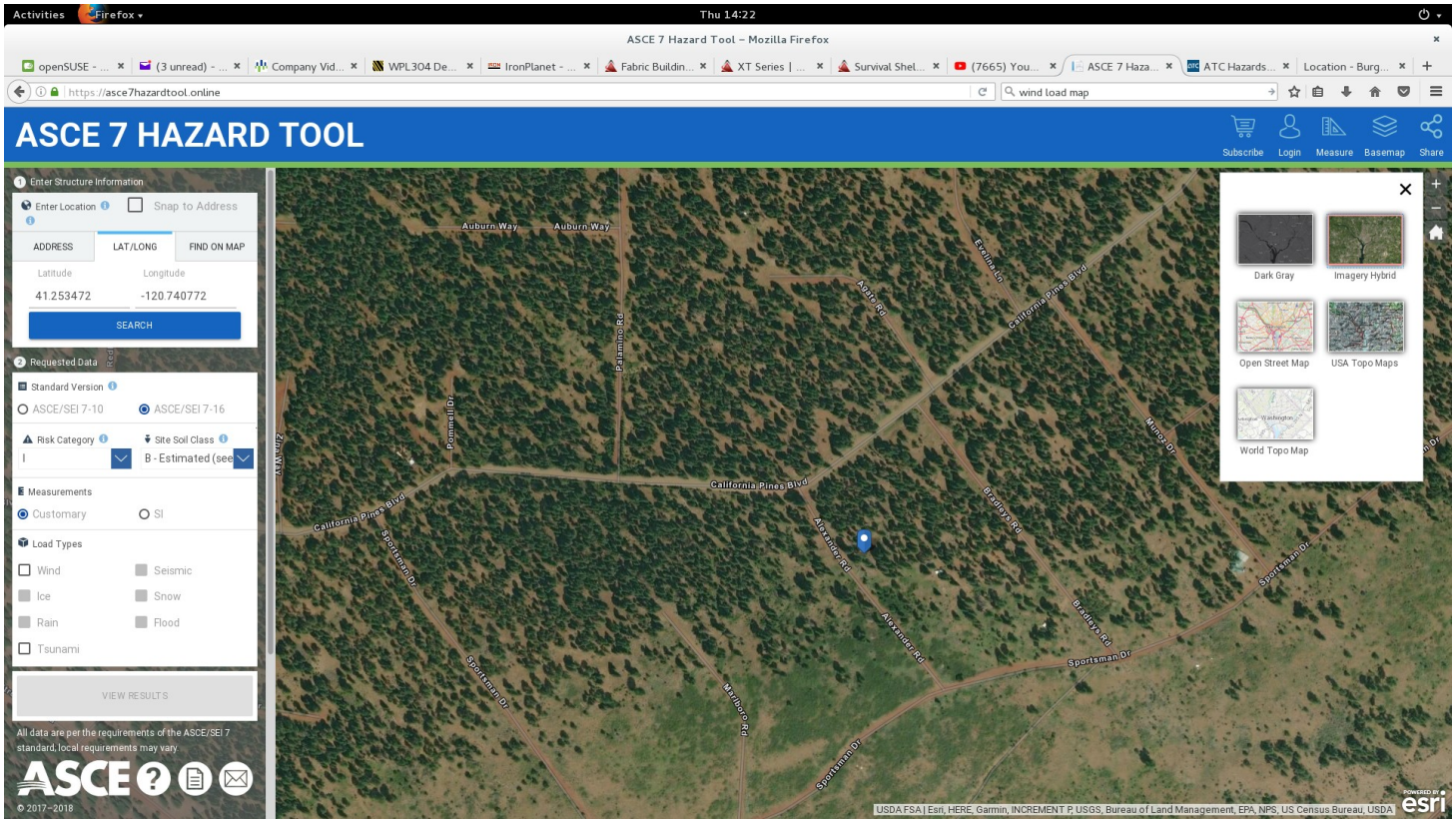
Activities
Firefox
Thu 14:22
ASCE 7 Hazard Tool – Mozilla Firefox
https://asce7hazardtool.online
wind load map
ASCE 7 HAZARD TOOL
Subscribe
Login
Measure
Basemap
Share
1 Enter Structure Information
Enter Location
Snap to Address
ADDRESS
LAT/LONG
FIND ON MAP
Latitude
Longitude
41.253472
-120.740772
SEARCH
2 Requested Data
Standard Version
ASCE/SEI 7-10
ASCE/SEI 7-16
Risk Category
I
Site Soil Class
B - Estimated (see
Measurements
Customary
SI
Load Types
Wind
Seismic
Ice
Snow
Rain
Flood
Tsunami
VIEW RESULTS
All data are per the requirements of the ASCE/SEI 7 standard, local requirements may vary.
ASCE
© 2017–2018
Auburn Way
Auburn Way
Palamino Rd
Pommell Dr
Aspen Rd
Estella Ln
California Pines Blvd
California Pines Blvd
California Pines Blvd
Sportsman Dr
Sportsman Dr
Sportsman Dr
Sportsman Dr
Sportsman Dr
Alexander Rd
Alexander Rd
Bradley Rd
Bradley Rd
Munro Dr
Merlino Rd
Dark Gray
Imagery Hybrid
Open Street Map
USA Topo Maps
World Topo Map
USDA FSA | Esri, HERE, Garmin, INCREMENT P, USGS, Bureau of Land Management, EPA, NPS, US Census Bureau, USDA
esri

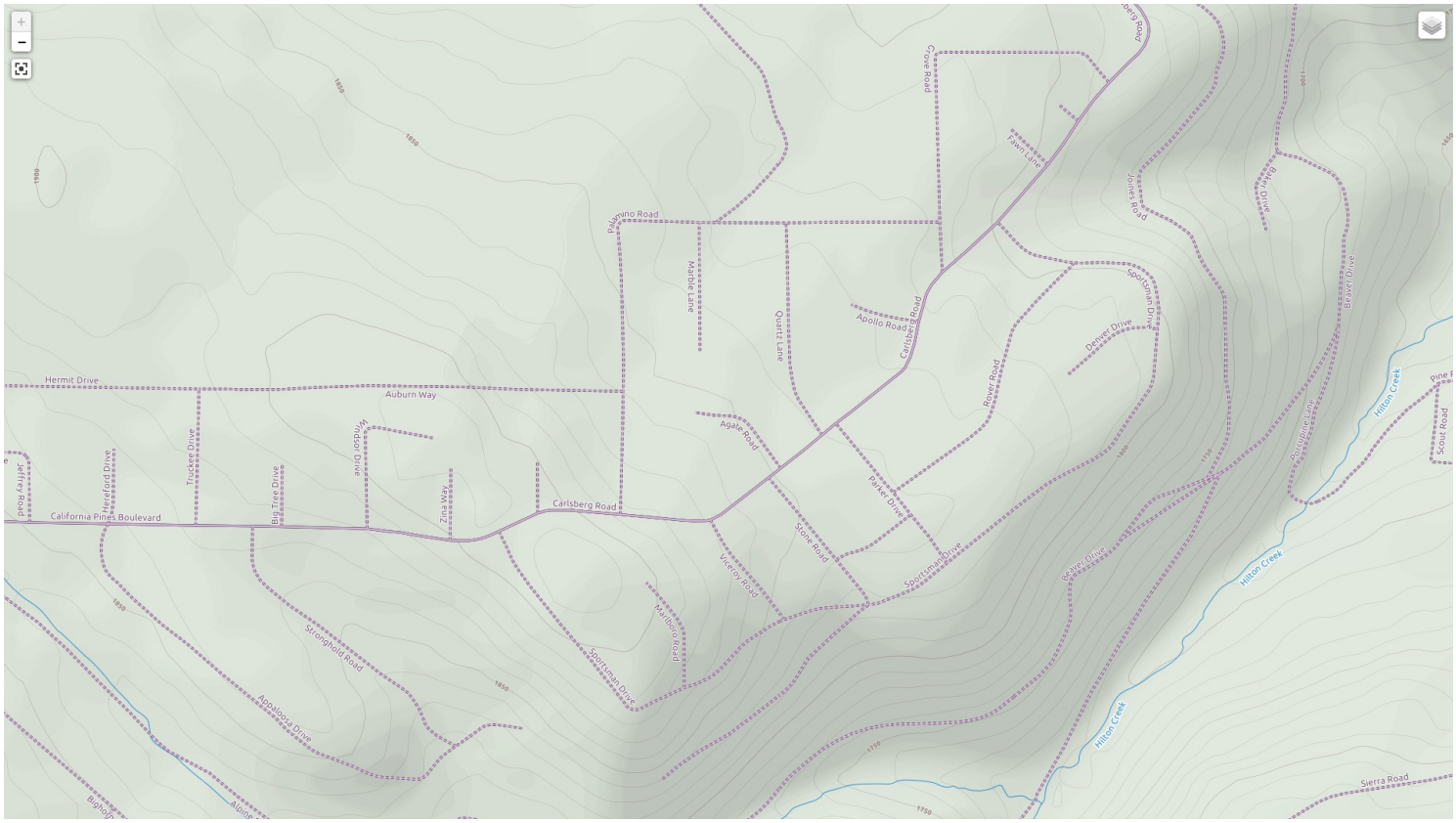
Hermit Drive
Auburn Way
Jeffrey Road
Hereford Drive
Trucker Drive
Big Tree Drive
Windsor Drive
Zena Way
California Pines Boulevard
Carlsberg Road
Palomino Road
Marble Lane
Quartz Lane
Agate Road
Apollo Road
Crove Road
Fawn Lane
Jones Road
Rover Road
Denver Drive
Sportsman Drive
Parker Drive
Stone Road
Vivero Road
Anaheim Road
Stronghold Road
Appaloosa Drive
Beaver Drive
Hilton Creek
Sierra Road
Scout Road
Pine F

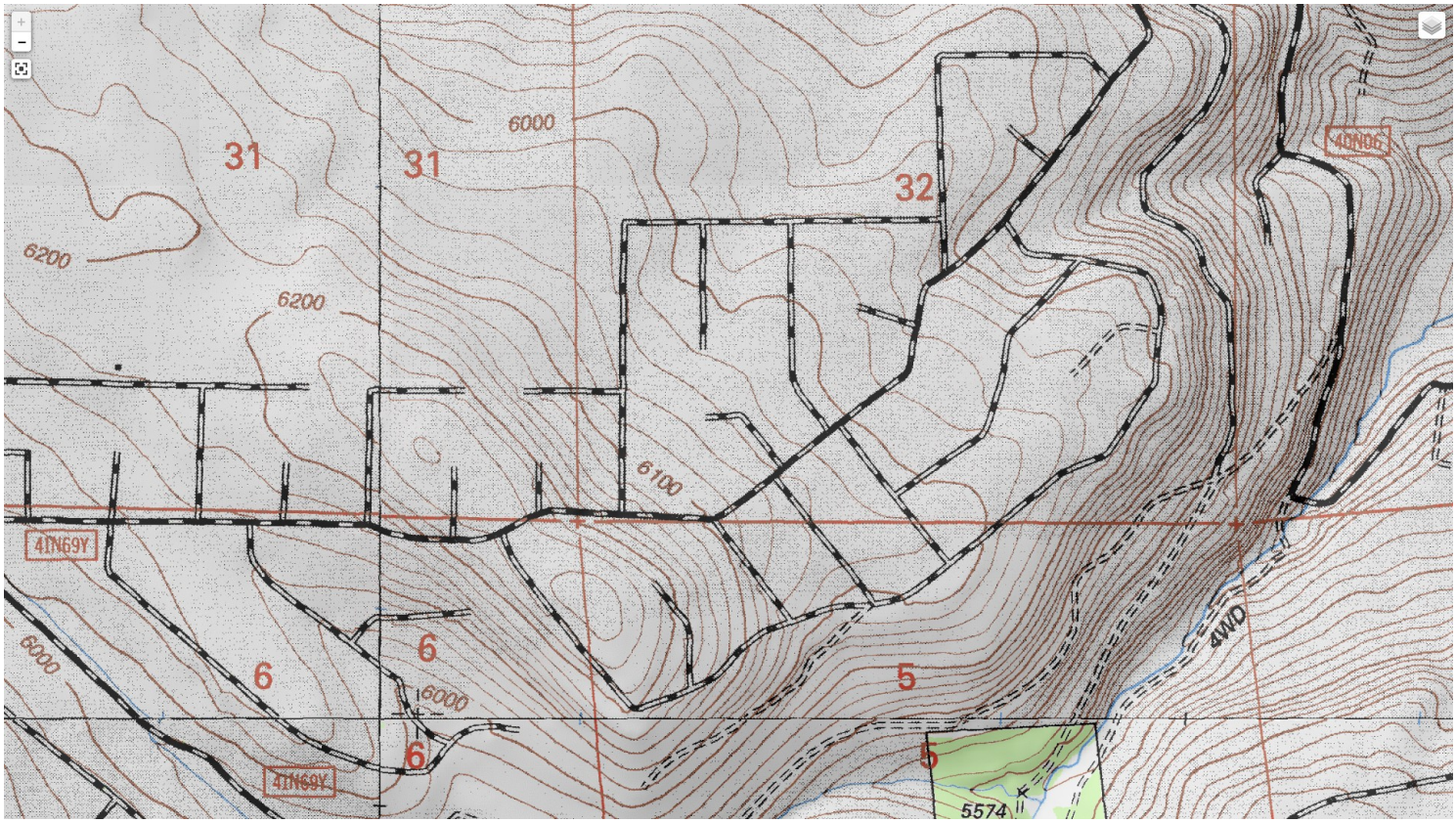
31
31
32
6
6
6
5
5
6000
6200
6200
6100
6000
6000
4N69Y
4N69Y
40N66
4WD
5574

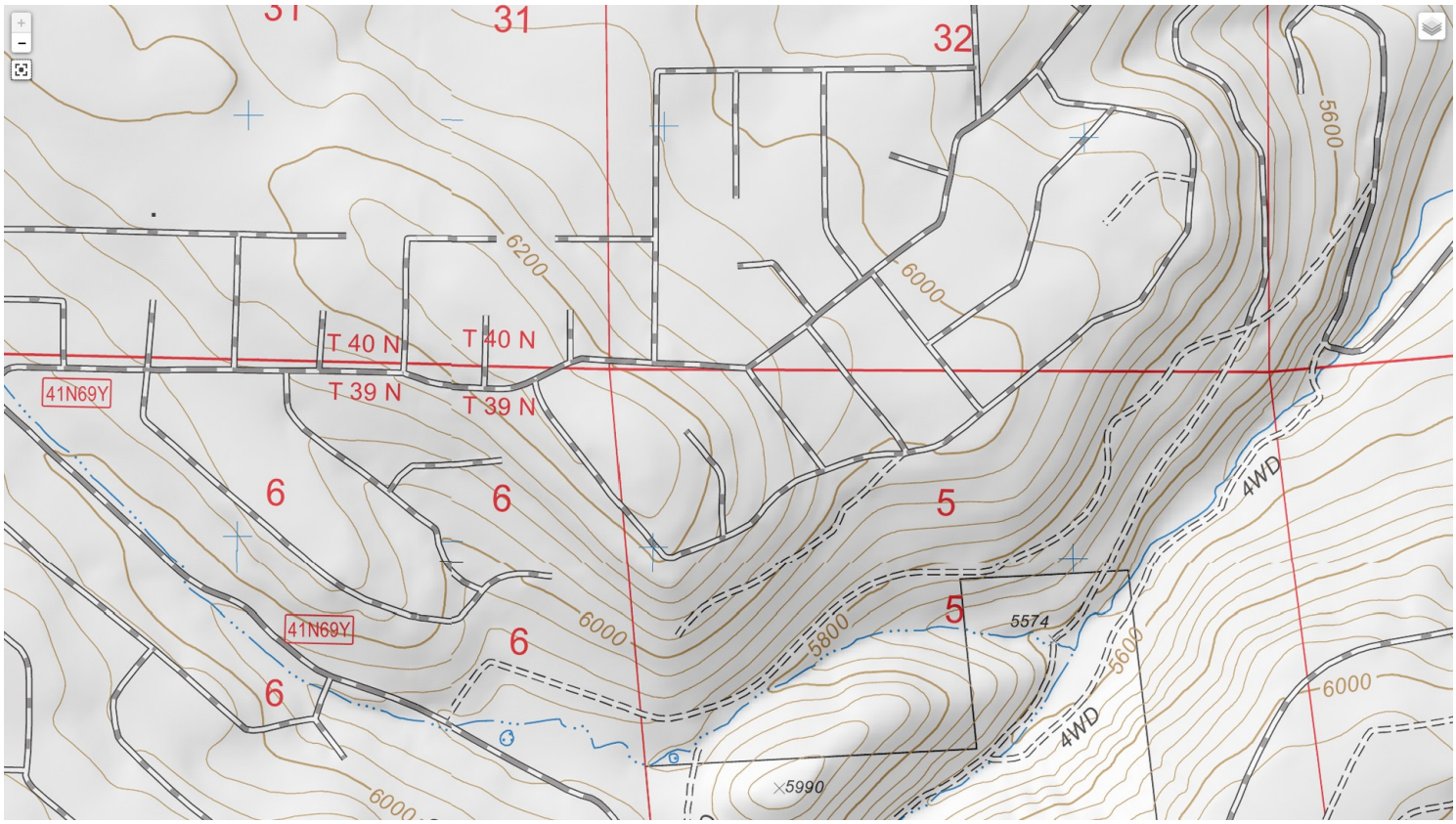
31
31
32
6200
6000
5600
T 40 N
T 40 N
T 39 N
T 39 N
41N69Y
41N69Y
6
6
6
6
5
5
6000
5800
5574
5600
4WD
4WD
6000
5990
6000

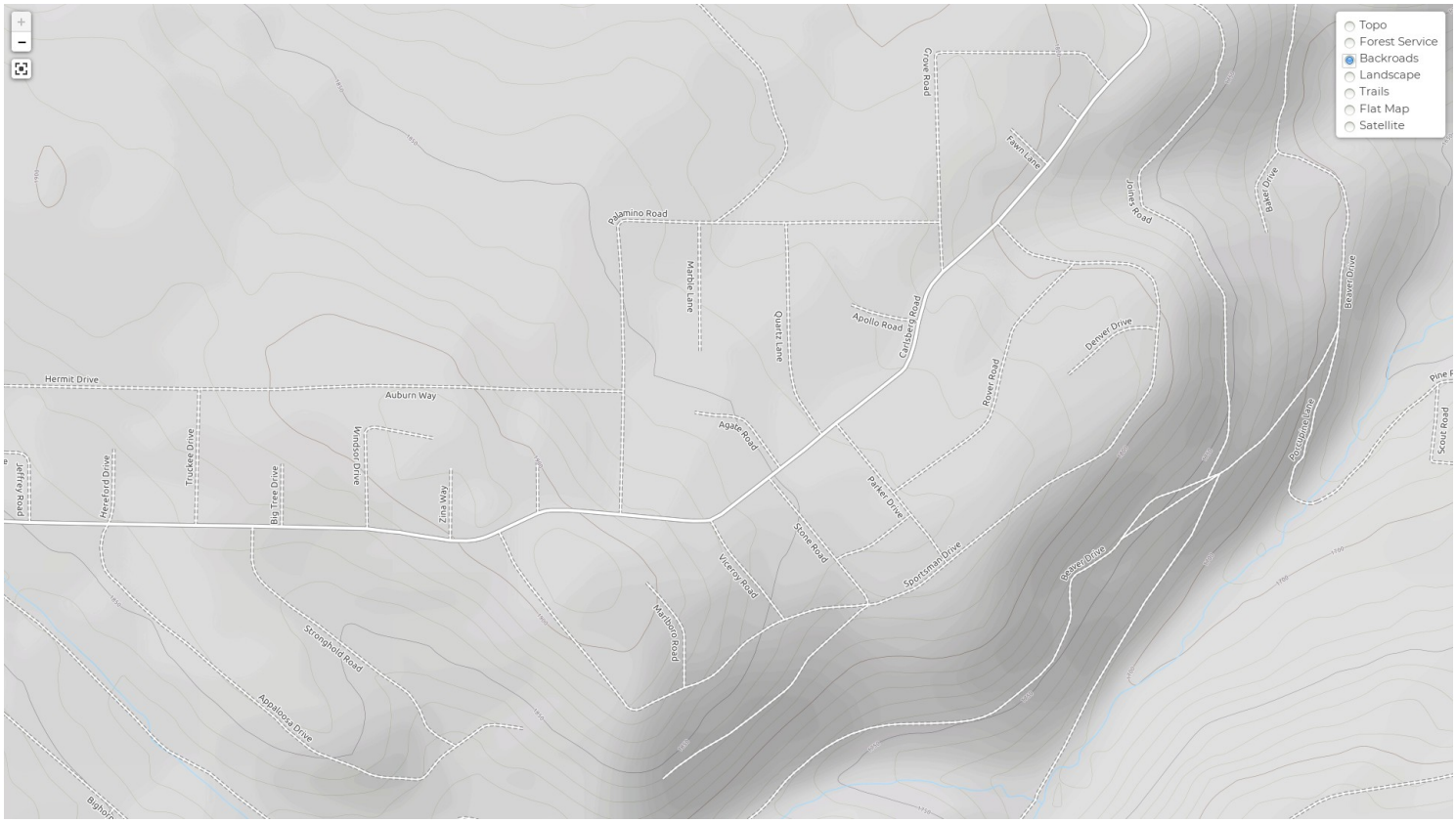
Topo
Forest Service
Backroads
Landscape
Trails
Flat Map
Satellite
Hermit Drive
Auburn Way
Jeffery Road
Hereford Drive
Truckee Drive
Big Tree Drive
Windsor Drive
Zina Way
Stronghold Road
Appaloosa Drive
Palamino Road
Marble Lane
Quartz Lane
Agate Road
Vicerroy Road
Marlboro Road
Stone Road
Parker Drive
Sportsman Drive
Apollo Road
Carlsberg Road
Crove Road
Rover Road
Pawn Lane
Denver Drive
Joines Road
Baker Drive
Beaver Drive
Porcupine Lane
Scout Road